Belarus



Identifying Belarus

.BY

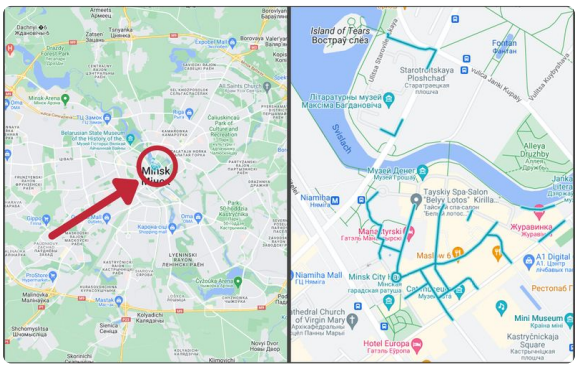

The only coverage in Belarus, apart from spills, is a single **walking trekker** in the historic centre of Minsk.

Instead of learning a lot of country-specific clues, it is more practical to simply memorise what the trekker looks like.

You can recognise trekkers by the fact that the camera feels a bit lower than the usual Google car. In Belarus' case, the trekker is also mostly on pedestrian-only roads.

You can find information about the border spill coverage in the [Spillover Guide](#).

The Minsk trekker features a **historic part of the city**, with well-maintained classical European architecture. Many buildings have white or pastel coloured walls. Most of the roads you see are pedestrian-only.



The Holy Spirit Cathedral features prominently in the coverage. Its two towers can often be seen from far away.

The pavement which the trekker walks on in Minsk is mostly **grey rectangular tiles**. On a small part, there are pink-ish tiles in a specific pattern.

Ні над кім не павінны ўчыняцца катаванні або жорсткія, бесчалавечныя або ўніжаючыя яго годнасць абыходжанне і пакаранне.

Signs will be in Belarusian or Russian. Both languages use the Cyrillic alphabet.

NOTE: The letters ў and і are not found in Russian.



The Minsk centre street signs are **sea-green**, and can be seen almost everywhere.

NOTE: If you are close enough to the sign, you can make out the Cyrillic letters "вул (vul)", the Belarusian name for "street".