Bermuda

Identifying Bermuda

.BM

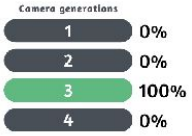

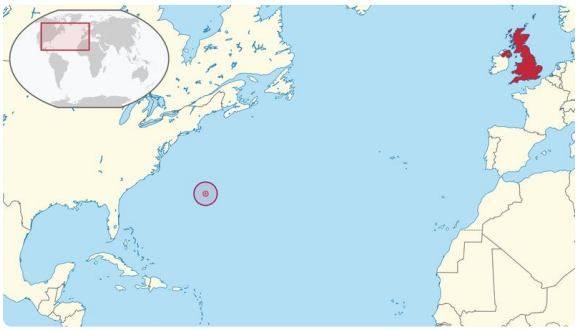

Bermuda is a British overseas territory, located north of the Caribbean sea. As such, it is counted as **the United Kingdom** for country streaks purposes.

Bermuda drives on the **left side** of the road.

Bermuda features a **black** Street View car with the entire front sides of the vehicle typically visible.

The most typical look of Bermuda is somewhat dense vegetation, consisting of fairly small trees and a lot of bushes, combined with single family houses strewn across the landscape.

Bermudan licence plates are all-white, fairly long, and with black digits, somewhat contained to the middle of the plate.

Most roads in Bermuda contain a **single solid yellow middle line** with no outer road lines.



You will occasionally see these white **zig zag road lines** on Bermuda.

Most buildings on Bermuda are single family stone houses painted in **pastel colours**. They will almost always have **completely white roofs**.

Palms are very commonly found on Bermuda.

On Bermuda you will never be far away from the ocean, and the water will very often look **distinctly light blue**.

Regional clues

Hamilton is by far the largest town on Bermuda, and as such, the downtown area is distinct due to its many large, densely built **multi-floor buildings**.

Spotlight

The northwestern tip of Bermuda can be recognised by the many large buildings made of **unpainted grey brick**.

A **boat trekker** can be seen on the eastern coast of Bermuda. It can be seen going around Saint George's Harbour and past Fort St. Catherine on the northeast tip of the island.