Cocos Islands

Identifying Cocos (Keeling) Islands

.cc

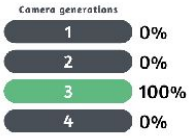

The Cocos (Keeling) Islands consist of two coral atolls. It is an Australian territory, so for country streaks purposes, it is counted as Australia.

The general landscape consists of **bright white sand**, **many palms** and mowed grass. Cocos Islands is significantly less forested or hilly compared to Christmas Island.

Regional clues



This unique car with a **snorkel** at the front right and the edges of the bed visible is found on West Island.

This white car with the **rear edges visible** is found in Bantam.

NOTE: The car may be fully blurred. Make sure to look out for other clues before guessing.

Bantam Village can be recognized by the **cross-hatched** brick pavement.

The Cocos Islands runway can be recognized by it being the widest paved road on the island, with mowed grass on both sides of the runway and this follow car.

Spotlight

Cocos Islands has many trekkers along the **coast**. Most of them will be walking on white sand, with the ocean to one side and **palms** the other.

Direction Island can be recognized by the beaches having significantly more **litter** compared to the other islands. Bricks, styrofoam and dead coral can be seen along some portions of the coast.

In addition, the trekker can be seen walking between many palms inland.

The inland trekker on Pulau Luar (Horsburgh Island) can be recognized by the **dry**, yellow grass, and more **sparse** vegetation.



This medium boat with a **large seating capacity** can be seen from West Island to Bantam.

This small boat with **black bars** at the rear can be seen in the north.

This small dark grey boat with a **woman** sitting at the back can be seen in the south.