Guam



Identifying Guam

.GU

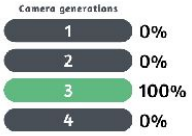

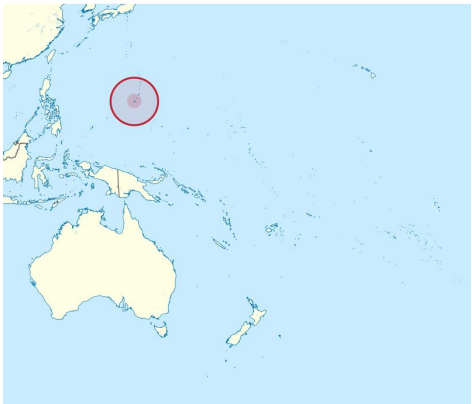

Guam is a United States overseas territory. As such, it is counted as **the US** for country streaks purposes.



The entire Google car is blurred, however an **antenna** at the front right and a tiny part of the **roof rack** can be seen.

NOTE: You will not see a roof rack on the Northern Mariana Islands Google car.

Poles on Guam are almost always **concrete** and commonly very thick.

NOTE: Northern Mariana Islands typically have wooden poles.

Guam uses **green** street signs, unlike the Northern Mariana Islands, which use blue street signs.

Guam has a **tropical climate** with a lot of dense and somewhat low vegetation.

Both Guam and Northern Mariana Islands often have a very **large number** of **road reflectors**.

East Asian languages such as Japanese, Chinese, Korean, and even Russian are common to see in Guam.

NOTE: This is also the case in Northern Mariana Islands.

Regional clues

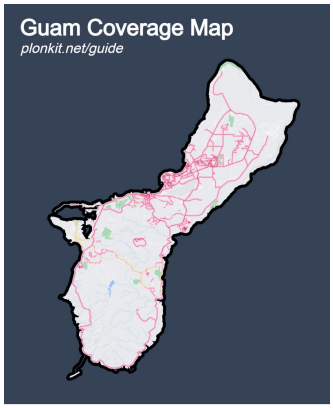

Coverage in Guam is fairly limited, particularly in the southern half, where there is almost no coverage inland.

Hills are mostly found on the southern half of the island.

Similarly, the northern half of the island is mostly **flat**.

Spotlight

Some Signposts near the town of Apra View are coloured **yellow**.



LeoPalace Resort can be recognised by the white, resort buildings with **orange tiled roofs**, which looks superficially similar to tiled roofs found on Java.