# Saint Pierre and Miquelon

## Identifying Saint Pierre and Miquelon

.PM

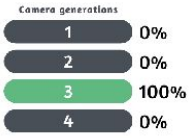


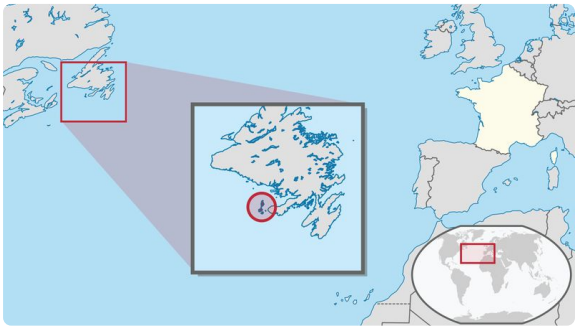

Saint Pierre and Miquelon, officially the Territorial Collectivity of Saint-Pierre and Miquelon, is an overseas department and region of France, south of Newfoundland in Canada. As such, for country streaks purposes, it is **counted as France**.

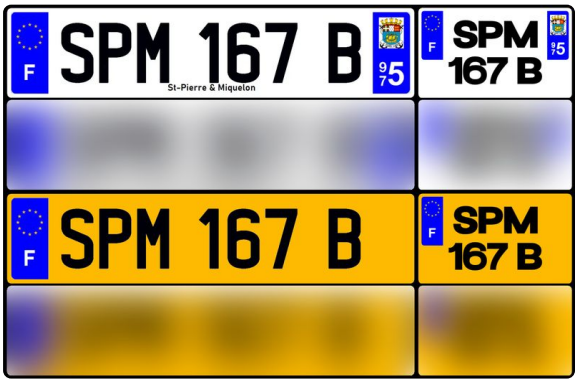


Licence plates can be either white or yellow and either short or long. They all have a blue EU strip however, and the white plates will also have a blue strip on the right, as is custom in France. Vehicles may or may not have front plates.



All coverage was taken with a **Generation 3 trekker camera**.

Most houses are made of wooden panels with a **boxy look** and often **vivid colours**.

The landscape mainly consists of flat or rolling **grasslands**. The coast will be visible more often than not.

## Regional clues

Coverage is fairly limited, being only found in the eastern parts of Saint-Pierre as well as at the northern tip of Miquelon-Langlade.

Miquelon-Langlade is a small town in the north of St Pierre. It can be recognized by the houses with timber cladding painted in **bold, vivid colours**. A shadow of the ATV used to cover this town can also be seen.

Saint-Pierre is the capital and largest town. The coverage in this town is made with a **sidewalk trekker**. Larger buildings and more cars can be seen, with a more populated feel compared to Miquelon-Langlade.

A slightly **hilly, grass**y landscape with boxy houses spaced apart can be seen on Île-aux-Marins.

## Spotlight

This rural trekker in the far north can be recognized by the **rolling, grassy** landscape. The trekker can also be seen walking on a wooden path, with trees on either side.

The rural trekker on Saint Pierre island has a more **rocky** landscape. The trekker also walks on a path with trees on both sides.

This **boat trekker** between Saint Pierre Island and Île-aux-Marins can be recognized by this man wearing a grey and black sweater.