Svalbard

Identifying Svalbard

.SJ

Svalbard is an archipelago in the Arctic Ocean, of which Norway has sovereignty over. As such, Svalbard is counted as **Norway** for country streaks purposes.

Licence plates in Svalbard are generally **black** with **yellow text**.

The general landscape consists of **barren, treeless** mountains. Trees and greenery are a very rare sight, with the majority of vegetation consisting of moss and grasses. The sky is also often overcast, with a gloomy look to the coverage.

Russian can sometimes be found on signs.

Town specific clues

Longyearbyen is the largest settlement on Svalbard, with many **boxy, minimalistic** buildings around the town.



Pyramiden feels more abandoned compared to Longyearbyen. Multi-storey **soviet-style** apartment blocks can be seen, however, with a lack of human-activity. As the name suggests, many pyramidal mountains can be seen in the distance.

Of the three towns, Barentsburg feels the most desolate. Distinct, **multi-coloured** apartment blocks can be seen near the top of the hill. Coverage is also more overcast and gloomy than Longyearbyen or Pyramiden.

Spotlight

This road going south-east of Longyearbyen can be recognized by the barren, treeless **mountains** on both sides of the road, with **lakes** leading up to the mountains. A small black mirror can sometimes be seen on the left.



A trekker can be seen holding on to a **red car** heading up a winding road, south of the Svalbard Airport. If the car is not present, this distinct line of mountains to the northeast is a good indicator that you are there.

This **large ship** can be seen around the Northwest Spitsbergen National Park. The coverage gets increasingly late toward the east, where it eventually becomes dark.



This boat with a **wooden deck** can be seen in these places.

This **small red boat** with men in **red jackets** on board can be seen in the northwest.

This boat with a **black deck** can be seen in Isfjorden, between Barentsburg and Grumant.

This boat can be seen east of Pyramiden, and can be identified by the **slanted front of the wheelhouse**.